CHAPTER 1

INTRODUCTION

In recent years, rapid urbanization and population growth have significantly increased the volume of solid waste generated in public and residential areas. Inefficient waste handling, delayed garbage collection, and lack of monitoring often result in overflowing bins, unhygienic surroundings, and environmental pollution. These issues not only degrade the quality of urban life but also pose serious health risks, including the spread of diseases caused by pests and contaminated waste. Traditional waste management practices rely on manual inspections and fixed collection schedules, which are often insufficient to address dynamic and location-specific waste accumulation.

Urban solid waste generation has increased rapidly due to population growth, urbanization, and changing consumption patterns, leading to major challenges in collection, monitoring, and disposal. Conventional waste management methods rely heavily on manual inspection, which often results in overflowing bins, unhygienic conditions, and inefficient collection routes. Recent research emphasizes that integrating Internet of Things (IoT) technologies with sensor-based smart bins can significantly improve waste monitoring by providing real-time fill-level data, automated alerts, and optimized collection schedules. Such systems enhance municipal efficiency, reduce operational costs, and contribute to cleaner and smarter urban environments (Wang et al., 2017).

With the advancement of digital technologies, there is a growing opportunity to transform conventional waste management into a **smart and responsive system**. Modern solutions emphasize real-time monitoring, data-driven decision-making, and active participation from stakeholders. However, many existing smart waste management systems depend heavily on costly IoT hardware and complex infrastructure, making them difficult to deploy at a large scale, especially in resource-constrained environments. This highlights the need for a **cost-effective, scalable, and adaptable solution** that can deliver the benefits of smart systems without heavy initial investment.

The proposed **Smart Hygiene Monitoring System** addresses these challenges by introducing a web-based platform that integrates bin monitoring, operational management, and community engagement into a single unified system. The project adopts a **software-first approach**, using a sensor simulator to replicate the behavior of real IoT sensors. This allows real-time tracking

of bin fill levels while maintaining affordability and flexibility. The system ensures that all updates, reports, and actions are recorded digitally, enabling transparency and accountability across all levels of waste management.

In addition to operational efficiency, the project places strong emphasis on **community participation and social responsibility**. By allowing citizens to report issues such as overflowing or damaged bins and rewarding valid contributions through an Eco Points system, the platform encourages people to actively participate in maintaining cleanliness. This approach fosters a sense of ownership and collective responsibility, transforming waste management from a purely administrative task into a shared community effort. Furthermore, the inclusion of predictive analysis enables authorities to anticipate potential overflow situations and take preventive action, thereby reducing environmental impact and improving public hygiene.

Overall, this project aims to demonstrate how thoughtful application of software engineering principles can create a practical, socially relevant, and future-ready waste management solution. The system is designed to be easily extensible, allowing seamless integration of real IoT sensors, mobile applications, and advanced analytics in the future. By combining monitoring, prediction, escalation, and community engagement, the Smart Hygiene Monitoring System provides a holistic approach to addressing one of the most critical challenges of modern urban living.

CHAPTER 2

LITERATURE SURVEY

A literature survey is an essential phase of any software engineering project, as it provides an understanding of existing research, technologies, and systems related to the problem domain. It helps in identifying the strengths and limitations of current solutions and highlights the gaps that can be addressed through the proposed system. By reviewing earlier approaches, a well-informed and practical solution can be designed that builds upon existing knowledge while introducing meaningful improvements.

Recent research in smart waste management highlights the importance of IoT-enabled sensing systems for efficient monitoring of urban solid waste. Modern cities face challenges such as irregular waste collection, overflowing bins, and high operational costs due to manual monitoring. To address these issues, many studies propose the integration of ultrasonic sensors, microcontrollers, wireless communication modules, and cloud platforms to automatically track bin fill levels and notify municipal authorities in real time. These systems not only help optimize waste collection routes but also reduce fuel consumption, manpower, and environmental pollution. Experimental results from existing studies show that IoT-based smart bin architectures significantly improve collection efficiency and provide a scalable foundation for smart-city waste management solutions. (Adapted and paraphrased from Wang et al., 2017)

[1] Wang, Z., Ochoa, S. F., & Meseguer, R. (2017). *Smart urban waste management system based on Internet of Things.* IEEE 14th International Conference on Networking, Sensing and Control(ICNSC),201–206.
https://doi.org/10.1109/ICNSC.2017.8000090

In the context of waste management and public hygiene, several studies and systems have been proposed to monitor garbage levels, optimize collection schedules, and improve sanitation efficiency. Many of these solutions focus on IoT-based monitoring, automated alerts, and smart city integration. While these approaches demonstrate the potential of technology in waste management, they often face challenges related to high deployment costs, hardware maintenance, limited scalability, and low community involvement.

This chapter presents a brief overview of such existing systems and analyzes their working principles, advantages, and shortcomings. It also examines how emerging concepts such as predictive analysis and citizen participation are being incorporated into modern waste

management solutions. Based on this analysis, the need for a **cost-effective, software-driven, and community-centric system** is established.

SL No	Paper Title	Authors	Methodologies / Models Used	Accuracy / Key Findings	Limitations
1	IoT Based Smart Waste Management System	S. Naveen, R. Kumar	Ultrasonic Sensors, GSM Module, IoT Cloud	Real-time bin level monitoring; reduced manual effort	Network delays during peak load
2	Smart Garbage Monitoring System Using IoT	P. Bhushan, A. Singh	NodeMCU, Ultrasonic Sensor, MQTT	Improved waste collection efficiency	Limited range of sensors
3	Smart Bin for Automatic Waste Segregation	K. Gupta, T. Roy	Machine Learning + Image Processing	85–90% accuracy in waste classification	High cost for ML hardware
4	Smart Waste Collection System Based on Real-Time Data	M. Faisal, R. Bashir	IoT Sensors + Route Optimization Algorithm	Reduced collection vehicle travel time	Requires high sensor maintenance
5	Waste Management Using LoRaWAN and IoT	S. Fernando, K. Zain	LoRaWAN, Battery-powered sensors	Long-range communication with low power	LoRaWAN gateway dependency
6	Urban Waste Monitoring Using Cloud Computing	D. Mehta, A. Rao	Cloud Storage, Web Dashboard	Scalable real-time dashboard for cities	Dependency on internet connectivity

7	Solid Waste Bin Detection System Using Computer Vision	R. Prasad, L. Menon	CNN-based Image Recognition	High accuracy in detecting overflow bins	Requires large training datasets
8	Smart City Waste Management Using Big Data Analytics	H. Wang, Y. Chen	Big Data + Predictive Analytics	Efficient prediction of waste generation patterns	Expensive infrastructure
9	IoT Enabled Waste Bin Monitoring	J. Sharma, P. Patel	GSM, Arduino, Ultrasonic Sensor	Accurate bin fill-level detection	No prediction or analytics
10	Route Optimization for Municipal Solid Waste Collection	M. Reddy, K. Babu	Dijkstra + GIS Mapping	Reduced operational cost	Complexity increases for large cities

2.1 Existing System

In the existing waste management framework, garbage collection and hygiene monitoring are largely performed using **manual and routine-based approaches**. Waste bins are inspected and cleaned according to fixed schedules, irrespective of their actual usage or fill level. This traditional approach does not adapt to real-time conditions and often results in either delayed cleaning or unnecessary resource usage.

Most commonly followed practices in the existing system include:

- Physical inspection of bins by sanitation workers
- Fixed garbage collection routes and timings
- Manual reporting or verbal communication of issues
- Minimal or no digital record of cleaning activities

Due to this method, bins in crowded or high-usage areas tend to overflow before the next scheduled visit, while bins in less-used areas are cleaned even when they are not full. This leads to **inefficient utilization of manpower and vehicles**, increasing operational costs and reducing overall cleanliness.

In recent years, some cities have adopted **IoT-based waste management systems** that use sensors to detect bin fill levels and transmit data to a centralized dashboard. While these systems improve monitoring accuracy, they come with several challenges:

- High initial cost of sensors and hardware
- Frequent maintenance and calibration requirements
- Dependence on uninterrupted power and network connectivity
- Difficulty in scaling to smaller institutions or semi-urban regions

Another significant limitation of existing systems is the **absence of structured community involvement**. Citizens generally lack a formal platform to report overflowing bins, damaged containers, or hygiene-related issues. Even when complaints are raised, they are often not tracked systematically, leading to delays in resolution and lack of accountability.

Additionally, the existing systems are mostly **reactive in nature**. Actions are taken only after a problem becomes visible, such as bin overflow or public complaints. There is minimal use of historical data to analyze waste patterns or predict future overflow scenarios. The lack of analytical insights prevents authorities from planning proactive cleaning schedules.

Key drawbacks of the existing system can be summarized as:

- No real-time monitoring of bin status
- Lack of predictive or analytical capabilities
- Limited transparency and accountability
- Poor community participation
- High dependency on manual processes

Because of these limitations, the existing waste management system is unable to provide comprehensive, scalable, and sustainable solution. These challenges clearly indicate the need

for a **digitally enabled, predictive, and community-driven system**, which is addressed in the proposed solution discussed in the next section.

2.2 Proposed System

The proposed system introduces a **Smart Hygiene Monitoring and Community-Driven Waste Management System** that overcomes the limitations of the existing manual and hardware-dependent approaches. The system is designed as a **web-based application using PHP and MySQL**, focusing on real-time monitoring, predictive analysis, administrative control, and active community participation.

Unlike traditional systems that rely solely on fixed schedules or expensive hardware, the proposed solution adopts a **software-first approach**. It utilizes a **Sensor Simulator Module** that acts as a virtual IoT sensor, allowing operators to manually update bin fill levels (Empty, Half, Full). These updates replicate real sensor behavior and enable real-time tracking without the need for physical sensors during the initial deployment phase.

Key Features of the Proposed System

The proposed system consists of multiple integrated modules that work together to ensure efficient waste monitoring and management:

- **Admin Module:**
  Provides centralized control through a dashboard displaying bin status, reports, escalations, prediction insights, and system logs.
- **Bin Management Module:**
  Allows the admin to add, update, delete bins and assign operators based on location and responsibility.
- **Sensor Simulator Module:**
  Enables manual entry of bin fill levels, functioning as a virtual sensor that drives all real-time updates, predictions, and analytics.
- **Operator Module:**
  Allows sanitation workers to view assigned bins, update fill levels, and mark bins as cleaned with proper timestamp tracking.

- **Community Reporting & Escalation Module:**
  Enables citizens to report issues such as overflowing bins, damage, or blockage, which are reviewed and managed by the admin.
- **Prediction & Insights Module:**
  Analyzes historical bin data to identify bins likely to fill soon, enabling proactive cleaning and better planning.
- **Eco Points & Leadership Board:**
  Rewards community users for valid reports and displays top contributors, encouraging public participation and responsibility.

Working of the Proposed System

The system operates in a structured workflow:

1. Bins are registered in the system and assigned to operators by the admin.
2. Operators update bin fill levels using the sensor simulator interface.
3. Updated data is stored in the database and reflected instantly on the admin dashboard.
4. Community users can submit reports for hygiene issues, which are tracked through status updates.
5. The prediction module analyzes historical data to forecast potential overflow scenarios.
6. Eco points are awarded for valid community contributions, and leadership rankings are updated.

Advantages of the Proposed System

The proposed system offers several improvements over the existing approach:

- Cost-effective implementation without immediate hardware dependency
- Real-time visibility of bin conditions
- Proactive waste management through predictive insights
- Improved accountability through digital logs and escalation tracking
- Increased community involvement via reward-based participation
- Scalable and IoT-ready architecture for future enhancements

By integrating monitoring, prediction, escalation, and community engagement into a single platform, the proposed system provides a **comprehensive, sustainable, and socially impactful solution** for modern waste management challenges.

2.3 Feasibility Study

A feasibility study is conducted to evaluate whether the proposed Smart Hygiene Monitoring System can be developed and implemented successfully within the available constraints. This study examines the project from multiple perspectives, including technical, economic, operational, and social feasibility. The analysis confirms that the proposed system is practical, sustainable, and suitable for real-world deployment.

2.3.1 Technical Feasibility

The proposed system is technically feasible as it is developed using widely accepted and reliable web technologies such as **PHP, MySQL, HTML, CSS, and JavaScript**. These technologies are well-supported, easy to maintain, and compatible with standard server environments.

Key technical considerations include:

- Web-based architecture requiring no specialized hardware for initial deployment
- Sensor Simulator Module eliminates dependency on physical IoT sensors
- Modular design allows easy integration of future enhancements
- Database-driven system ensures secure storage and retrieval of data
- Compatible with common browsers and operating systems

Since the system relies on proven technologies and standard development tools, it does not pose significant technical risks.

2.3.2 Economic Feasibility

The project is economically feasible due to its **low development and deployment cost**. The initial version of the system is entirely software-based and does not require expensive IoT hardware.

Economic advantages include:

- No cost for proprietary software or licenses

- Minimal infrastructure requirements (standard web server)
- Reduced operational costs due to optimized waste collection
- Future IoT integration can be done incrementally based on available funds

The cost-effectiveness of the system makes it suitable for institutions, campuses, and local governing bodies with limited budgets.

2.3.3 Operational Feasibility

Operational feasibility assesses how easily the system can be adopted and used by its intended users. The proposed system is designed with **simplicity and usability** in mind.

Operational strengths include:

- Intuitive interfaces for admin, operator, and community users
- Minimal training required for operators to update bin status
- Clear workflows for reporting, escalation, and resolution
- Digital logs reduce paperwork and manual record-keeping

The system fits naturally into existing waste management routines while improving efficiency and accountability.

2.3.4 Social Feasibility

The project is socially feasible as it addresses a major public concern—**cleanliness and hygiene**—and actively involves the community.

Social benefits include:

- Encourages citizen participation through reporting and Eco Points
- Promotes awareness and responsibility toward waste management
- Improves public health by preventing overflow and unhygienic conditions
- Builds trust between the community and administrative authorities

The inclusion of a reward-based engagement model ensures sustained public involvement.

2.3.5 Legal and Ethical Feasibility

The system does not violate any legal or ethical guidelines. It does not collect sensitive personal data and ensures responsible usage of information.

Key points include:

- No storage of confidential or biometric data
- User information used only for system functionality
- Transparent handling of reports and rewards
- Compliance with basic data protection practices

2.4 Tools and Technologies Used

The Smart Hygiene Monitoring System is developed using a combination of widely used software tools and web technologies that support reliability, scalability, and ease of maintenance. The selected tools and technologies are suitable for building a modular, database-driven web application and allow future expansion of the system.

The following tools and technologies were used during the design and development of the project:

2.4.1 Frontend Technologies

The frontend of the system is designed to provide a simple and user-friendly interface for all types of users, including administrators, operators, and community members.

- **HTML (HyperText Markup Language):**
  Used to structure the web pages and define the layout of forms, tables, and dashboards.
- **CSS (Cascading Style Sheets):**
  Used to style the application and improve visual appearance, readability, and user experience.
- **JavaScript:**
  Used to add interactivity, perform basic validations, and enhance user interface responsiveness.

- **Bootstrap (Optional):**
  Used to create responsive layouts and ensure compatibility across different screen sizes and devices.

2.4.2 Backend Technologies

The backend handles the business logic, data processing, and communication between the user interface and the database.

- **PHP:**
  Used as the server-side scripting language to implement application logic, handle form submissions, manage sessions, and control user roles.
- **MySQL:**
  Used as the relational database management system to store user data, bin details, sensor simulator readings, reports, eco points, and system logs.

2.4.3 Development Environment and Tools

These tools support development, testing, and deployment of the application.

- **XAMPP:**
  Used as a local server environment that includes Apache, MySQL, and PHP, allowing easy testing and execution of the application.
- **phpMyAdmin:**
  Used to manage and visualize MySQL databases, execute queries, and perform database operations.
- **Visual Studio Code:**
  Used as the primary code editor for writing and managing PHP, HTML, CSS, and JavaScript files.

2.4.4 Database and Data Handling

- **Relational Database Design:**
  Structured tables are used to manage bins, readings, users, reports, eco points, and escalations.

- **Timestamp-Based Data Storage:**
  Used to track bin updates, report submissions, and resolution times for prediction and analysis.

2.4.5 Future Technology Integration (Planned)

The system is designed to support future upgrades without major architectural changes.

- **IoT Sensors (Ultrasonic Sensors):**
  To automatically measure bin fill levels.
- **Microcontrollers (ESP32 / NodeMCU):**
  To transmit sensor data to the web system.
- **Advanced Analytics / Machine Learning:**
  To improve prediction accuracy based on larger datasets.

The selection of these tools and technologies ensures that the system remains **cost-effective, flexible, and scalable**, while also being capable of evolving into a fully automated smart waste management solution in the future.

2.5 Hardware and Software Requirements

The Smart Hygiene Monitoring System is primarily a **software-based web application** and therefore requires minimal hardware resources for development and deployment. The system is designed to run efficiently on standard computing infrastructure and can be easily scaled or upgraded for future enhancements such as IoT integration.

2.5.1 Hardware Requirements

The hardware requirements for the current implementation of the system are minimal and easily available.

Minimum Hardware Requirements:

- Personal Computer or Laptop
- Processor: Intel i3 or higher
- RAM: Minimum 4 GB
- Hard Disk: 20 GB free space

- Internet connection (for testing and future deployment)

These hardware specifications are sufficient to support the development, testing, and execution of the web application.

2.5.2 Optional Hardware for Future Integration

To extend the system into a fully automated IoT-based solution, the following hardware components can be integrated in the future:

- Ultrasonic sensors (for detecting bin fill levels)
- Microcontrollers such as ESP32 or NodeMCU
- Power supply units or battery modules
- Sensor casing and mounting accessories
- Network connectivity modules (Wi-Fi)

These components enable real-time automated data collection and seamless integration with the existing system architecture.

2.5.3 Software Requirements

The software requirements include the operating system, development tools, server environment, and web browsers required to run the application.

Software Requirements:

- Operating System: Windows / Linux
- Web Server: Apache (XAMPP)
- Backend Language: PHP
- Database: MySQL
- Database Management Tool: phpMyAdmin
- Code Editor: Visual Studio Code or equivalent
- Web Browser: Google Chrome / Mozilla Firefox

2.5.4 Deployment Requirements

- Local server setup using XAMPP for development and testing
- Internet browser for accessing the application
- Database configured with appropriate user privileges
- PHP session and security configurations enabled

The minimal hardware and software requirements make the Smart Hygiene Monitoring System **economically feasible and easy to deploy**. At the same time, the system is flexible enough to support future upgrades, ensuring long-term usability and scalability.

CHAPTER 3

SOFTWARE REQUIREMENTS SPECIFICATION

The Software Requirements Specification (SRS) defines the functional and non-functional requirements of the Smart Hygiene Monitoring System in a clear and structured manner. This chapter serves as a formal description of what the system is expected to do and the constraints under which it must operate. The SRS acts as a reference for system design, implementation, and testing, ensuring that all stakeholders share a common understanding of the system's capabilities.

The requirements outlined in this chapter are derived from the analysis of the existing waste management system and the objectives of the proposed solution. They describe the interactions between different user roles, including administrators, operators, and community users, as well as the system's behavior in response to various inputs such as bin status updates, community reports, and administrative actions.

This chapter is divided into two main sections: **Functional Requirements**, which specify the features and operations the system must perform, and **Non-Functional Requirements**, which define performance, security, usability, and reliability constraints. Together, these requirements ensure that the Smart Hygiene Monitoring System is efficient, user-friendly, secure, and scalable.

3.1 Functional Requirements

Functional requirements describe the specific functionalities and operations that the Smart Hygiene Monitoring System must perform. These requirements define how the system behaves, how users interact with it, and how different modules communicate with each other. The system is designed to support multiple user roles, each with defined permissions and responsibilities.

The functional requirements of the system are categorized based on user roles and system operations as follows:

3.1.1 User Authentication and Authorization

- The system shall allow users to log in based on their assigned roles (Admin, Operator, Community User).

- The system shall restrict access to features based on user roles.
- The system shall maintain user sessions securely after login.
- The system shall prevent unauthorized access to protected pages.

3.1.2 Admin Module Requirements

- The system shall provide an admin dashboard displaying overall system status.
- The system shall allow the admin to add, edit, and delete dustbin details.
- The system shall allow the admin to assign operators to specific bins.
- The system shall display real-time bin status (Empty, Half, Full).
- The system shall allow the admin to view and manage community reports.
- The system shall allow the admin to update report status (Pending, In Progress, Resolved, Rejected).
- The system shall provide access to prediction insights and escalation details.
- The system shall maintain logs of administrative actions.

3.1.3 Operator Module Requirements

- The system shall allow operators to view only the bins assigned to them.
- The system shall allow operators to update bin fill levels using the sensor simulator (Empty/Half/Full).
- The system shall allow operators to mark bins as cleaned.
- The system shall record the date and time of each update.
- The system shall reflect operator updates immediately on the admin dashboard.

3.1.4 Sensor Simulator Module Requirements

- The system shall allow manual input of bin fill levels.
- The system shall treat manual inputs as virtual sensor data.
- The system shall store all fill-level updates in the database.
- The system shall use fill-level data for prediction and analysis.

3.1.5 Community Reporting & Escalation Requirements

- The system shall allow community users to submit reports related to bins.
- The system shall support issue categories such as overflow, damage, blockage, and misplacement.
- The system shall store report details with user information and timestamps.
- The system shall allow the admin to review and manage all submitted reports.
- The system shall track the status of each report until resolution.

3.1.6 Prediction and Analytics Requirements

- The system shall analyze historical bin fill-level data.
- The system shall identify bins that are likely to fill soon.
- The system shall display prediction insights to the admin.
- The system shall assist in proactive planning of cleaning activities.

3.1.7 Eco Points and Reward System Requirements

- The system shall award eco points to community users for valid reports.
- The system shall calculate total eco points for each user.
- The system shall display a community leadership board.
- The system shall prevent duplicate or invalid reward allocation.

3.1.8 System Logging and Data Management

- The system shall store logs of important system activities.
- The system shall maintain bin history and report history.
- The system shall ensure data consistency and integrity across modules.

The above functional requirements define the core operations of the Smart Hygiene Monitoring System and ensure smooth interaction between users, system modules, and data components.

3.2 Non-Functional Requirements

Non-functional requirements describe the quality attributes and constraints under which the Smart Hygiene Monitoring System must operate. These requirements focus on system performance, security, usability, reliability, and maintainability rather than specific functionalities. They ensure that the system delivers a stable, efficient, and user-friendly experience for all users.

The key non-functional requirements of the system are described below:

3.2.1 Performance Requirements

- The system shall respond to user requests within an acceptable time under normal load conditions.
- Dashboard updates shall reflect recent bin status changes without significant delay.
- The system shall support multiple concurrent users without degradation in performance.
- Database operations shall be optimized to ensure quick data retrieval and updates.

3.2.2 Security Requirements

- The system shall enforce role-based access control for all users.
- User sessions shall be securely maintained using server-side session management.
- Unauthorized access to system pages shall be restricted.
- Input data shall be validated to prevent common security threats such as SQL injection.

3.2.3 Usability Requirements

- The user interface shall be simple and easy to understand.
- The system shall require minimal training for operators and community users.
- Forms and navigation shall be designed to reduce user errors.
- Status messages and feedback shall be clearly displayed to users.

3.2.4 Reliability and Availability Requirements

- The system shall function reliably during normal operating hours.

- Data entered into the system shall not be lost during unexpected interruptions.
- The system shall handle invalid inputs gracefully without crashing.
- Regular backups shall be maintained for database recovery.

3.2.5 Scalability Requirements

- The system shall support an increase in the number of bins and users.
- The architecture shall allow integration of real IoT sensors in the future.
- Additional analytical or reporting modules shall be integrated without major redesign.

3.2.6 Maintainability Requirements

- The system shall be modular to simplify updates and enhancements.
- Code shall be written in a readable and structured manner.
- Database design shall support easy modification and extension.
- Documentation shall be available to support maintenance activities.

3.2.7 Portability Requirements

- The system shall run on standard web browsers.
- The application shall be deployable on different operating systems.
- Minimal configuration changes shall be required during deployment.

The above non-functional requirements ensure that the Smart Hygiene Monitoring System is not only functional but also secure, reliable, scalable, and maintainable, making it suitable for real-world deployment.

CHAPTER 4

SYSTEM DESIGN

System design is a crucial phase in the software development lifecycle, as it translates the requirements specified in the Software Requirements Specification (SRS) into a structured and implementable solution. This chapter focuses on defining the overall architecture of the Smart Hygiene Monitoring System and explains how different system components interact with one another to achieve the desired functionality.

This chapter presents a high-level view of the system architecture, data flow, and control flow within the application. It describes how inputs from operators and community users are processed, stored, and utilized by the system to provide real-time monitoring, prediction, escalation handling, and reward management. Visual representations such as flowcharts, class diagrams, and data flow diagrams are used to clearly illustrate the internal working of the system.

The System Design chapter serves as a bridge between requirements and implementation, providing a clear blueprint that guides the development process and ensures that the final system aligns with the intended objectives of improving hygiene management and encouraging community participation.

4.1 System Perspective

The Smart Hygiene Monitoring System is designed as a **web-based, modular application** that supports real-time waste monitoring, administrative control, and community participation. The system follows a centralized architecture where all data and operations are managed through a single web server connected to a relational database. This approach ensures consistency, scalability, and ease of maintenance.

The system interacts with three primary user groups: **Admin**, **Operator**, and **Community User**. Each user group has clearly defined roles and permissions, ensuring secure and structured access to system functionalities. All interactions—such as bin updates, report submissions, predictions, and reward calculations—are processed by the backend and stored in the database for tracking and analysis.

Overall System Architecture Perspective

From a high-level viewpoint, the system consists of the following major components:

- **User Interface Layer:**
  Provides web-based interfaces for admins, operators, and community users to interact with the system.
- **Application Logic Layer:**
  Handles business logic such as bin status updates, prediction calculations, report processing, eco-point allocation, and escalation handling.
- **Database Layer:**
  Stores all persistent data including bin details, fill-level history, user information, reports, eco points, and system logs.

Interaction Flow Perspective

The system operates through a structured flow of interactions:

- The **Admin** configures bins, assigns operators, monitors dashboards, reviews reports, and analyzes predictions.
- The **Operator** updates bin fill levels using the sensor simulator and marks bins as cleaned.
- The **Community User** submits reports related to bin issues and earns eco points for valid contributions.
- The **Sensor Simulator Module** acts as a virtual IoT component, feeding real-time bin status data into the system.
- The **Prediction Module** processes historical data to forecast potential overflow scenarios.

System Boundary Perspective

The Smart Hygiene Monitoring System functions within clearly defined boundaries:

- It operates as a web application accessed via standard browsers.
- It does not depend on physical IoT sensors in its current implementation.

- External hardware integration is planned as a future enhancement.
- All data processing and decision-making occur within the system boundary.

Design Characteristics

Key design characteristics of the system include:

- Modular and extensible architecture
- Role-based access control
- Centralized data management
- IoT-ready design using sensor simulation
- Community-driven reporting and rewards

This system perspective establishes a clear understanding of how the Smart Hygiene Monitoring System is structured, how its components interact, and how users engage with it. It forms the foundation for further detailed design representations such as flowcharts, class diagrams, and data flow diagrams.

4.2 Flow Chart

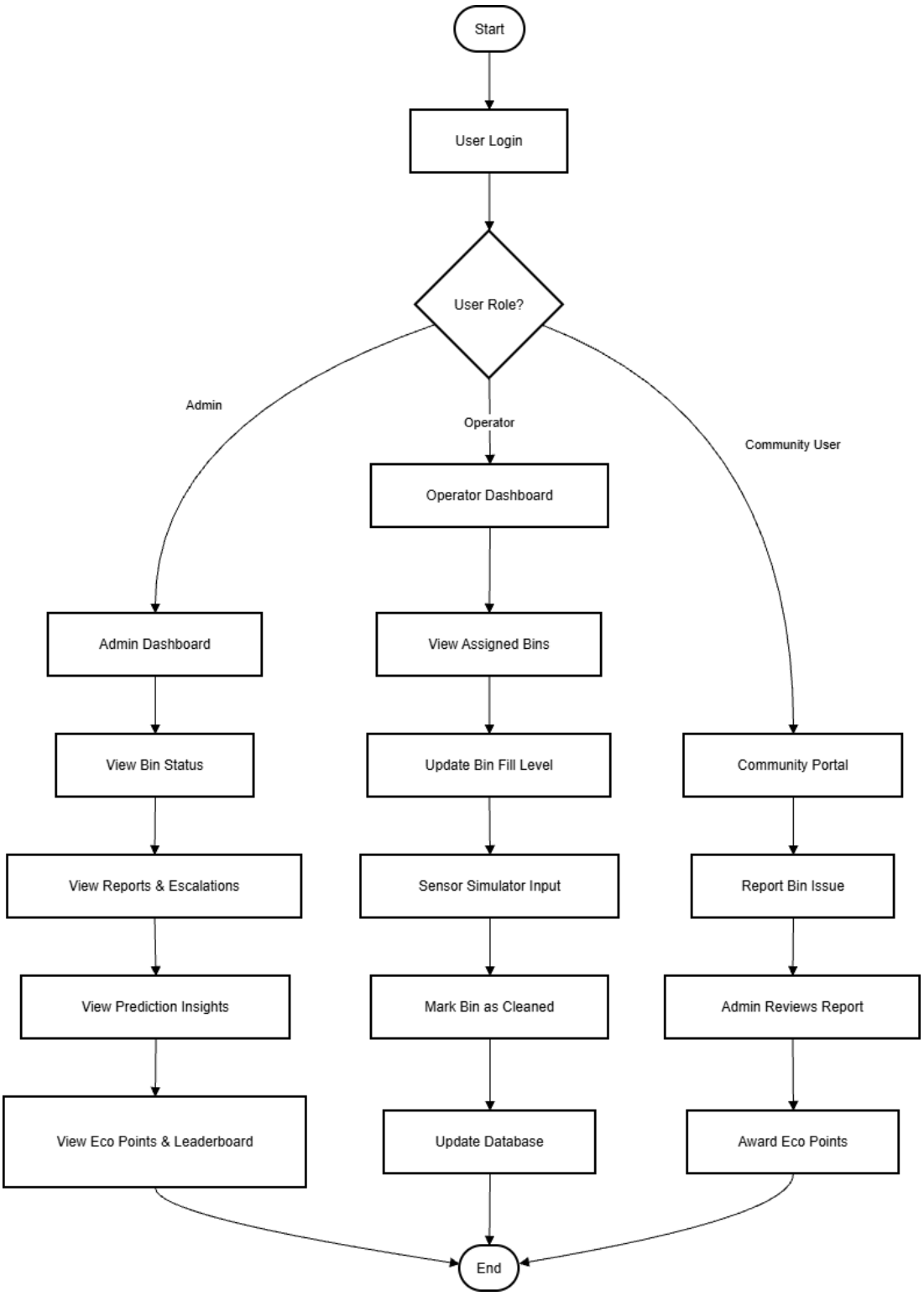

Figure 4.2.1 Flowchart On Overall Project

Figure 4.2.1 Description:

"The flowchart shows the overall execution of the Smart Hygiene Monitoring System. Based on user roles, the system directs users to appropriate modules such as admin, operator, or community portal. Each action updates the database and contributes to monitoring, prediction, escalation, and eco-points allocation."

CHAPTER 5

DETAILED DESIGN

The Detailed Design phase focuses on describing the **internal structure and data flow** of the Smart Hygiene Monitoring System. While the System Design chapter presented a high-level architectural view, this chapter provides a deeper insight into how the system components are structured and how data moves between them during execution.

This chapter explains the design of the system using standard modeling techniques such as **Class Diagrams** and **Data Flow Diagrams (DFD)**. These design representations help in visualizing the relationships between system entities, defining data interactions, and understanding the logical organization of the application. They also serve as a blueprint for implementation and future enhancements.

The detailed design ensures that the system is **modular, maintainable, and scalable**. Each module is designed with clearly defined responsibilities, reducing complexity and improving readability. This structured approach simplifies debugging, testing, and future integration of advanced features such as real IoT sensors and enhanced analytics.

The detailed design phase translates the system architecture into lower-level components that define the actual behavior of each module in UrbanBin. It focuses on the internal structure of classes, data flow, sequence of interactions, and entity relationships to ensure the system operates cohesively. Each diagram—from class diagrams to DFDs and sequence flows—captures how data moves between modules and how users interact with system functionalities. The design ensures modularity, allowing the Bin Management Module, Sensor Simulator, Reporting System, Prediction Engine, and Eco Points Module to operate independently yet collaboratively. This structured design approach not only simplifies implementation but also enhances maintainability, scalability, and adaptability for future enhancements like IoT integration and advanced analytics.

5.1 Class Diagram

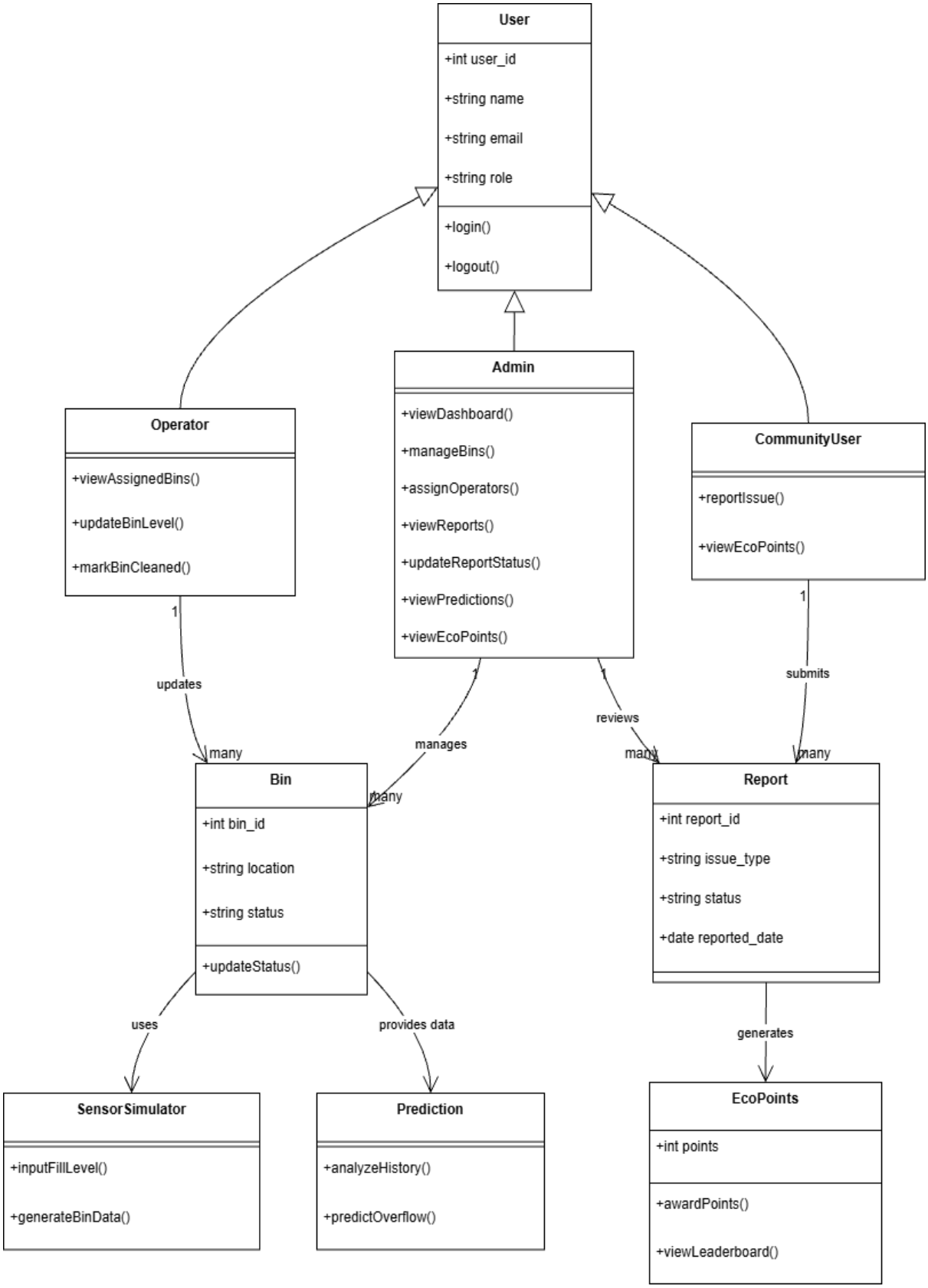

Figure 5.1 Class Diagram

Figure 5.1 Description:

"The class diagram represents the structural design of the Smart Hygiene Monitoring System. It illustrates the relationship between different classes such as User, Admin, Operator, Community User, Bin, Report, Sensor Simulator, Prediction, and EcoPoints. The diagram highlights inheritance, associations, and responsibilities of each class in the system."

5.2 Data Flow Diagram [Level 0]

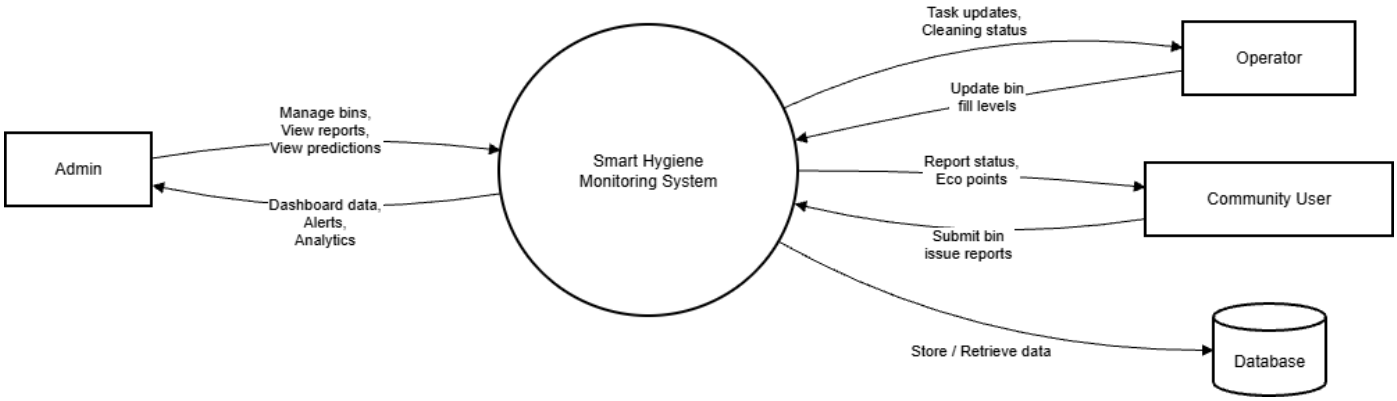

Figure 5.2 DFD [Level 0]

Figure 5.2 Description:

"The Level 0 Data Flow Diagram represents the Smart Hygiene Monitoring System as a single process and shows its interaction with external entities such as Admin, Operator, and Community User. It illustrates the flow of data between users and the system, as well as data storage and retrieval from the database."

5.3 Data Flow Diagram [Level 1]

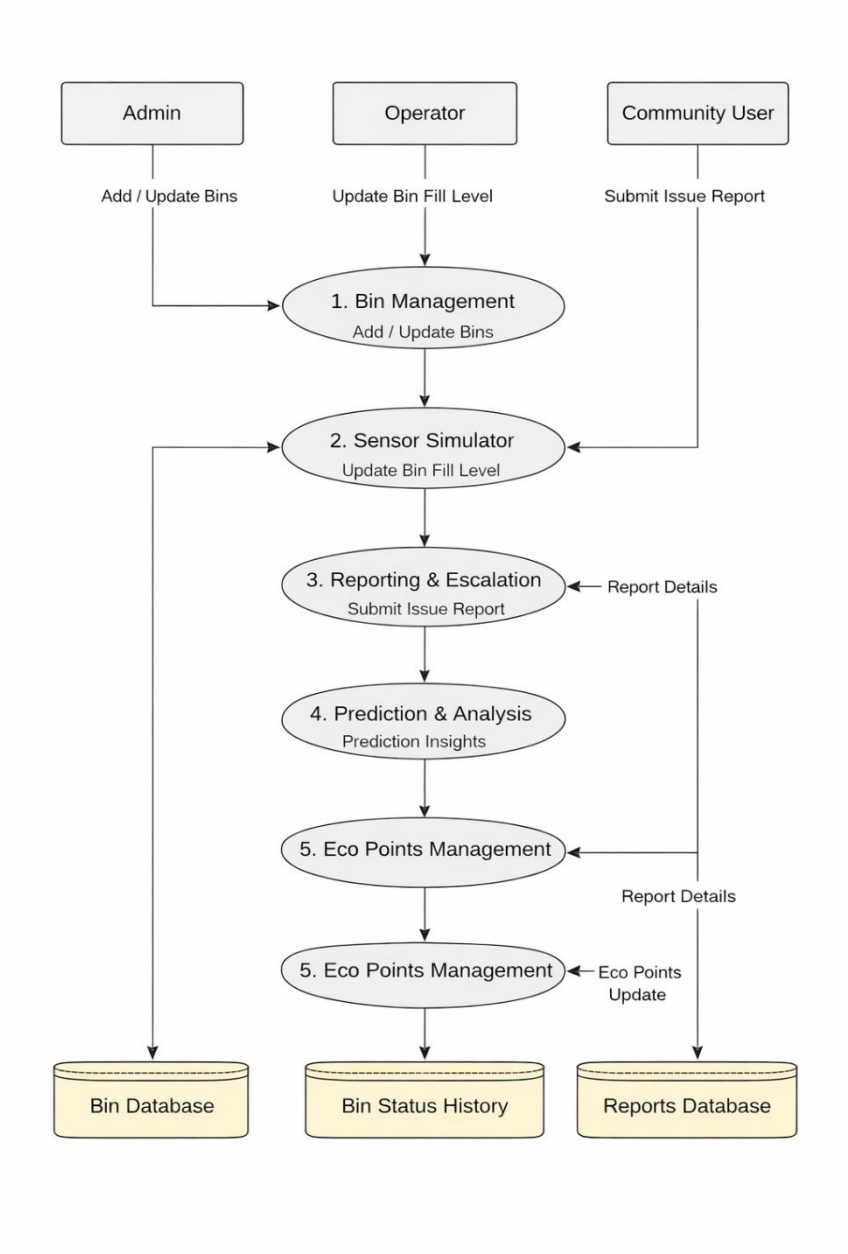

Figure 5.2 DFD [Level 1]

Figure 5.2 Description:

The DFD Level-1 diagram illustrates the decomposition of UrbanBin into five core processes: Bin Management, Sensor Simulation, Reporting & Escalation, Prediction & Analysis, and Eco Points Management. It shows how Admins, Operators, and Community Users interact with the system to update bin levels, submit reports, and retrieve insights. Each process stores or retrieves data from the corresponding databases, enabling real-time monitoring, accurate prediction, and reward-based community participation.

5.4 Sequence Diagram:

Figure 5.4 Sequence Diagram

Figure 5.4 Description:

"The sequence diagram represents the chronological interaction between Community Users, Operators, Admins, the UrbanBin system, and the database. It illustrates how reports are submitted and reviewed, how bin status updates are processed, and how predictive insights and eco-points are generated. The diagram highlights the system's coordinated workflow ensuring efficient waste monitoring and community-driven participation."

5.5 Activity Diagram

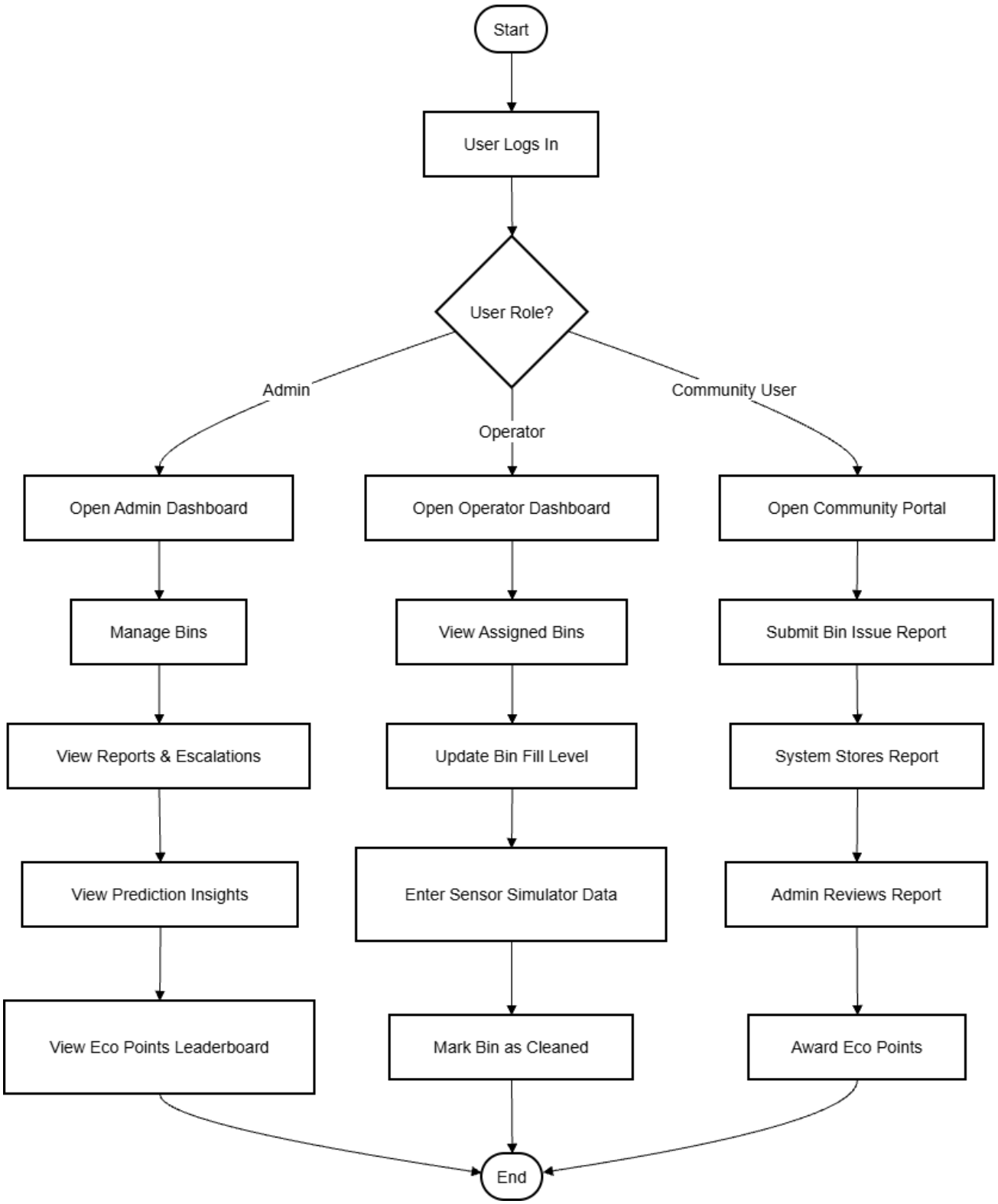

Figure 5.5 Activity Diagram

Figure 5.5 Description:

"The activity diagram illustrates the workflow of UrbanBin by showing how Admins, Operators, and Community Users each perform role-specific actions from login to task completion. It highlights the branching of activities based on user roles and the smooth flow of actions that support waste monitoring and community-driven reporting."

5.6 Use Case Diagram

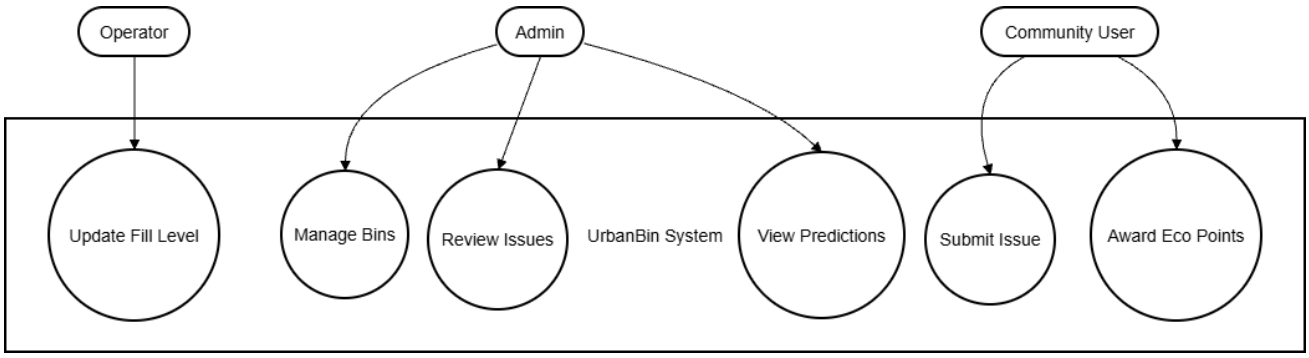

Figure 5.6 Use Case Diagram

Figure 5.6 Description:

The use case diagram illustrates how Admin, Operator, and Community User interact with the UrbanBin system to perform key operations such as bin management, reporting, prediction viewing, fill-level updates, and eco-points allocation.

5.7 ER Diagram

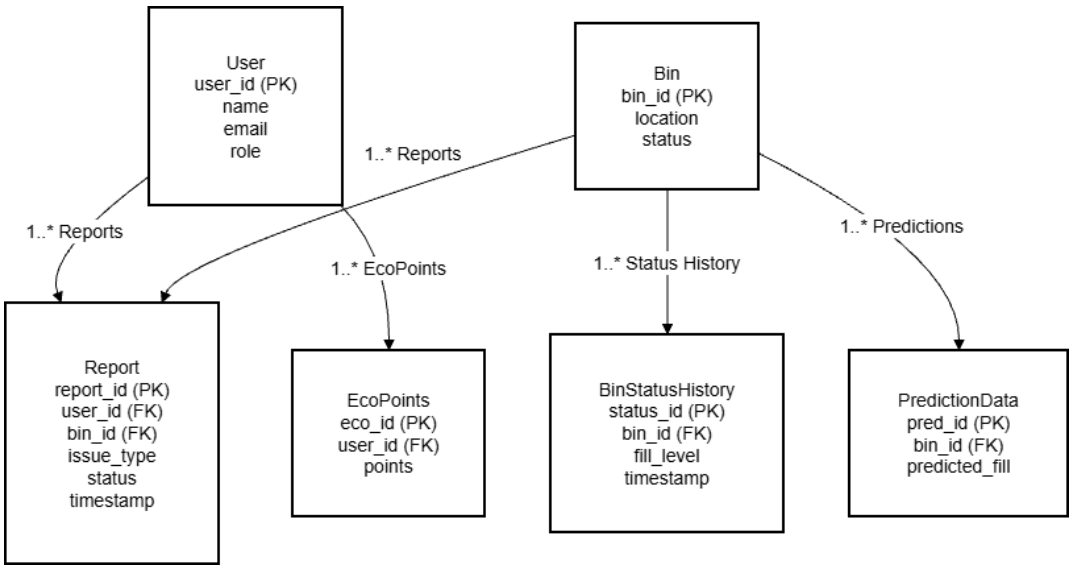

Figure 5.7 ER Diagram

Figure 5.7 Description:

The ER diagram illustrates the core data entities of the UrbanBin system, including Users, Bins, Reports, Eco Points, Prediction Data, and Bin Status History. It defines how these entities interact through key relationships, ensuring structured storage of user reports, bin updates, prediction results, and reward tracking.

CHAPTER 6

IMPLEMENTATION

The implementation phase transforms the system design into a fully functional software application. In this chapter, the features of the UrbanBin system are developed using PHP, MySQL, HTML, CSS, and JavaScript. The implementation follows a modular approach, where each component—such as bin management, sensor simulation, reporting, prediction logic, and eco-points—has been coded as an independent module to ensure clarity, maintainability, and scalability.

Key functionalities like user authentication, role-based access, bin status updates, and community reporting have been implemented using structured PHP scripts and secure database operations. The Sensor Simulator module captures simulated real-time bin fill levels, while the admin dashboard aggregates data to present insights, reports, and predictions. The system's backend is supported by a clean relational database schema that ensures efficient data storage and retrieval.

The following section highlights important code snippets from major modules, focusing on how each function contributes to the overall operation of UrbanBin. These snippets reflect core logic and demonstrate the integration of user interfaces, server-side processing, and database connectivity.

6.1 Code Snippets

Database Connection (db.php)

```
<?php

$host = "localhost";

$user = "root";

$pass = "";

$db   = "urbanbin";

$conn = mysqli_connect($host, $user, $pass, $db);

if(!$conn){
```

```
    die("Database Connection Failed: " . mysqli_connect_error());
}
?>
```

Login Authentication (login.php)

```
<?php
session_start();
include "config/db.php";
if(isset($_POST['login'])){
    $email = $_POST['email'];
    $pass  = $_POST['password'];
    $query = "SELECT * FROM users WHERE email='$email' AND password='$pass'";
    $res = mysqli_query($conn, $query);
    if(mysqli_num_rows($res) == 1){
        $row = mysqli_fetch_assoc($res);
        $_SESSION['user_id'] = $row['user_id'];
        $_SESSION['role']    = $row['role'];
        if($row['role'] == 'admin'){
            header("Location: admin/dashboard.php");
        } else if($row['role'] == 'operator'){
            header("Location: operator/operator_home.php");
        } else {
            header("Location: community/home.php");
        }
    } else {
```

```
        $error = "Invalid email or password";
    }
}
?>
```

Admin – Add Bin (admin/add_bin.php)

```
<?php
include "../config/db.php";
if(isset($_POST['add_bin'])){
    $location = $_POST['location'];
    $status   = "Empty";
    $query = "INSERT INTO bins(location, status) VALUES('$location','$status')";
    mysqli_query($conn, $query);
    header("Location: dashboard.php?msg=Bin Added");
}
?>
```

Operator – Sensor Simulator (operator/update_status.php)

```
<?php
include "../config/db.php";
session_start();
if(isset($_POST['update'])){
    $bin_id     = $_POST['bin_id'];
    $fill_level = $_POST['fill_level']; // Empty, Half, Full
    $operator   = $_SESSION['user_id'];
    // Update main bin table
```

```
    mysqli_query($conn, "UPDATE bins SET status='$fill_level' WHERE bin_id=$bin_id");


    // Insert into bin history for prediction
    mysqli_query($conn,
        "INSERT INTO binstatushistory(bin_id, fill_level, timestamp)
         VALUES('$bin_id','$fill_level', NOW())"
    );
    header("Location: operator_home.php?msg=Updated");
}
?>
```

Community User – Submit Issue (community/report_issue.php)

```
<?php
include "../config/db.php";
session_start();
if(isset($_POST['submit'])){
    $user_id    = $_SESSION['user_id'];
    $bin_id     = $_POST['bin_id'];
    $issue_type = $_POST['issue_type'];
    mysqli_query($conn,
        "INSERT INTO report(bin_id,user_id,issue_type,status,timestamp)
         VALUES('$bin_id','$user_id','$issue_type','Pending',NOW())"
    );
    header("Location: home.php?msg=Report Submitted");
}
```

```
?>
```

Admin – Review Report & Update Status (admin/review_report.php)

```
<?php
include "../config/db.php";
if(isset($_POST['update_status'])){
    $report_id = $_POST['report_id'];
    $status    = $_POST['status'];
    mysqli_query($conn,
        "UPDATE report SET status='$status'
         WHERE report_id=$report_id"
    );
    header("Location: reports.php?msg=Status Updated");
}
?>
```

Award Eco Points (admin/award_points.php)

```
<?php
include "../config/db.php";
if(isset($_POST['award'])){
    $user_id = $_POST['user_id'];
    $points  = 5; // For valid report
    mysqli_query($conn,
        "INSERT INTO ecopoints(user_id,points)
         VALUES('$user_id','$points')"
    );
```

```
  header("Location: reports.php?msg=Eco Points Awarded");
}
?>
```

Prediction Module (admin/prediction.php)

(Simple logic: If recent entries have multiple "Half" / "Full", system predicts overflow)

```
<?php
include "../config/db.php";
$bins = mysqli_query($conn, "SELECT * FROM bins");
$prediction = [];
while($b = mysqli_fetch_assoc($bins)){
   $bin_id = $b['bin_id'];
   // Get last 5 updates
   $history = mysqli_query($conn,
      "SELECT fill_level FROM binstatushistory
       WHERE bin_id=$bin_id
       ORDER BY timestamp DESC
       LIMIT 5"
   );
   $levels = [];
   while($row = mysqli_fetch_assoc($history)){
      $levels[] = $row['fill_level'];
   }
   // Prediction logic
```

```
    if(in_array("Full", $levels)){
        $prediction[$bin_id] = "Likely to overflow soon";
    } elseif(count(array_keys($levels, "Half")) >= 3){
        $prediction[$bin_id] = "Approaching high fill level";
    } else {
        $prediction[$bin_id] = "Normal";
    }}
?>
```

Display Prediction Result in Admin Dashboard

```
<?php foreach($prediction as $bin_id => $status): ?>
    <tr>
        <td><?= $bin_id ?></td>
        <td><?= $status ?></td>
    </tr>
<?php endforeach; ?>
```

Eco Points Leaderboard (community/leaderboard.php)

```
<?php
include "../config/db.php";
$result = mysqli_query($conn,
    "SELECT u.name, SUM(e.points) as total_points
     FROM users u
     JOIN ecopoints e ON u.user_id = e.user_id
     GROUP BY u.user_id
     ORDER BY total_points DESC" ); ?>
```

6.2 Implementation Screenshots

6.2.1 Login Page

Figure 6.2.1 Login Page

This screenshot displays the login interface where Admin, Operator, and Community Users authenticate into the UrbanBin system. Role-based redirection ensures secure access to respective dashboards.

6.2.2 Admin Dashboard (Home Page)

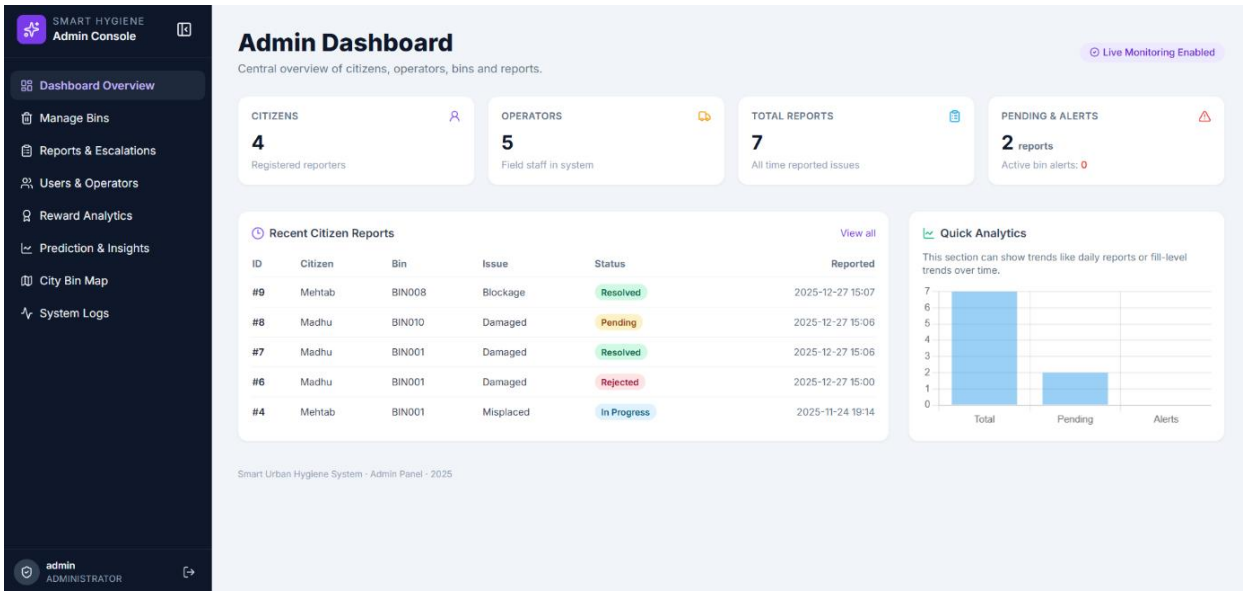

Figure 6.2.2 Admin Dashboard

The Admin Dashboard provides a centralized view of all system modules including bins, reports, predictions, and eco points. It serves as the control center for managing the entire UrbanBin ecosystem.

6.2.3 Add Bin Page

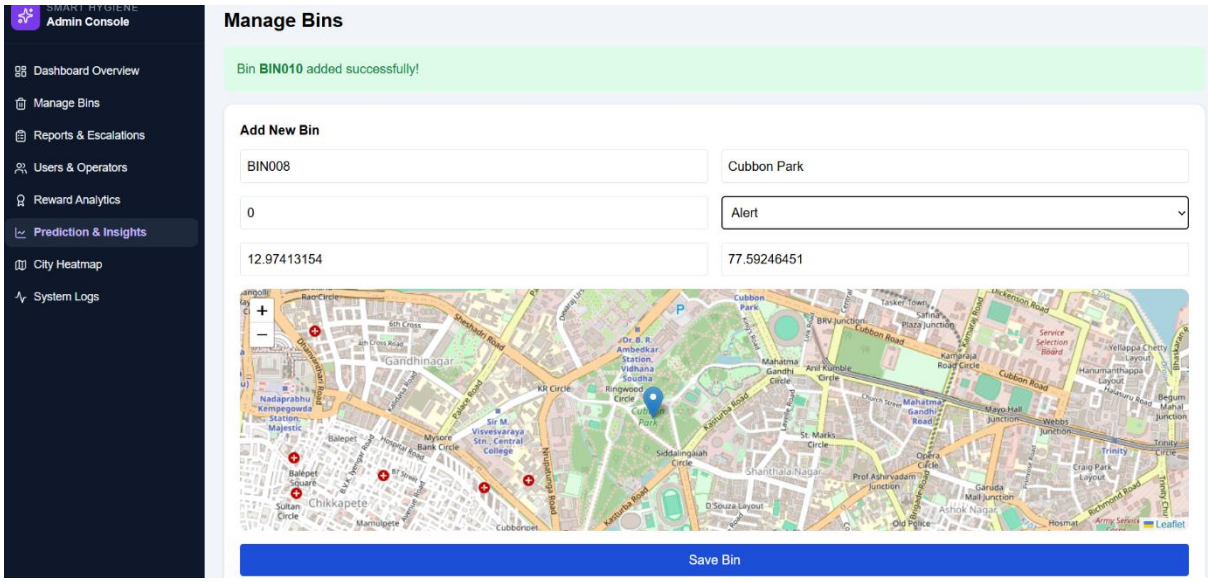

Figure 6.2.3 Add Bin Page

The Admin Dashboard provides a centralized view of all system modules including bins, reports, predictions, and eco points. It serves as the control center for managing the entire UrbanBin ecosystem.

6.2.4 Operator Dashboard

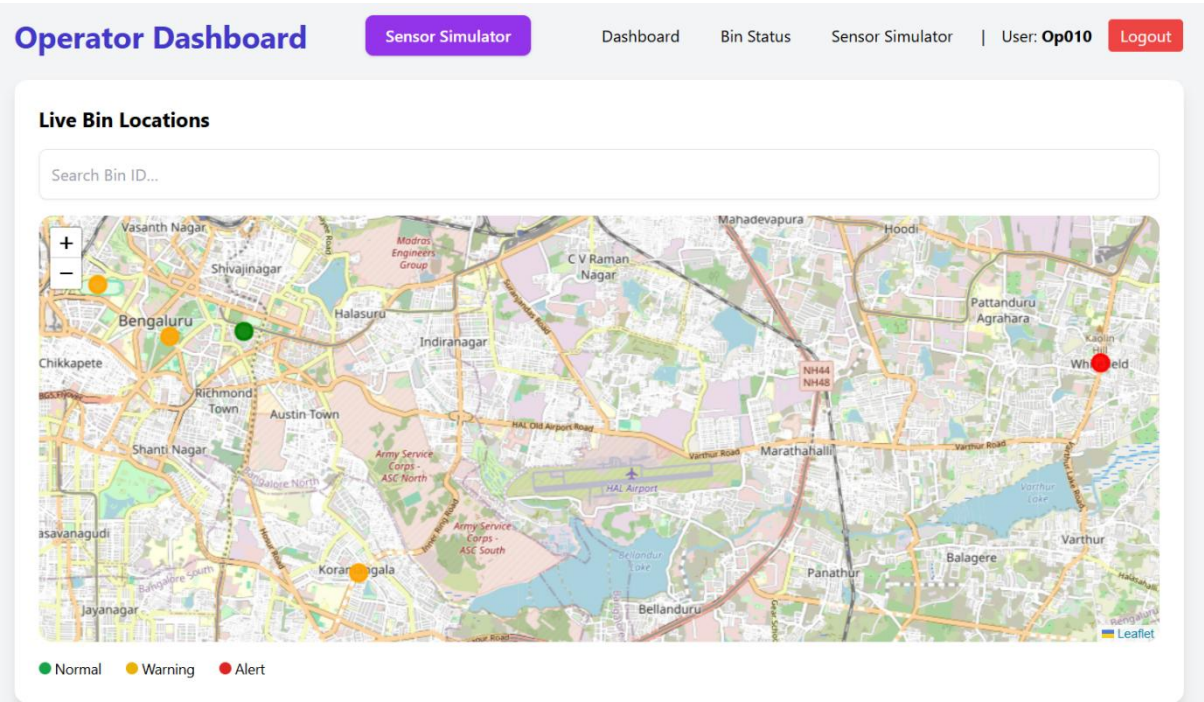

Figure 6.2.4 Operator Dashboard

The Operator Dashboard displays the list of assigned bins and provides access to the Sensor Simulator module. Operators use this page to update real-time fill levels.

6.2.5 Sensor Simulator Page (Operator)

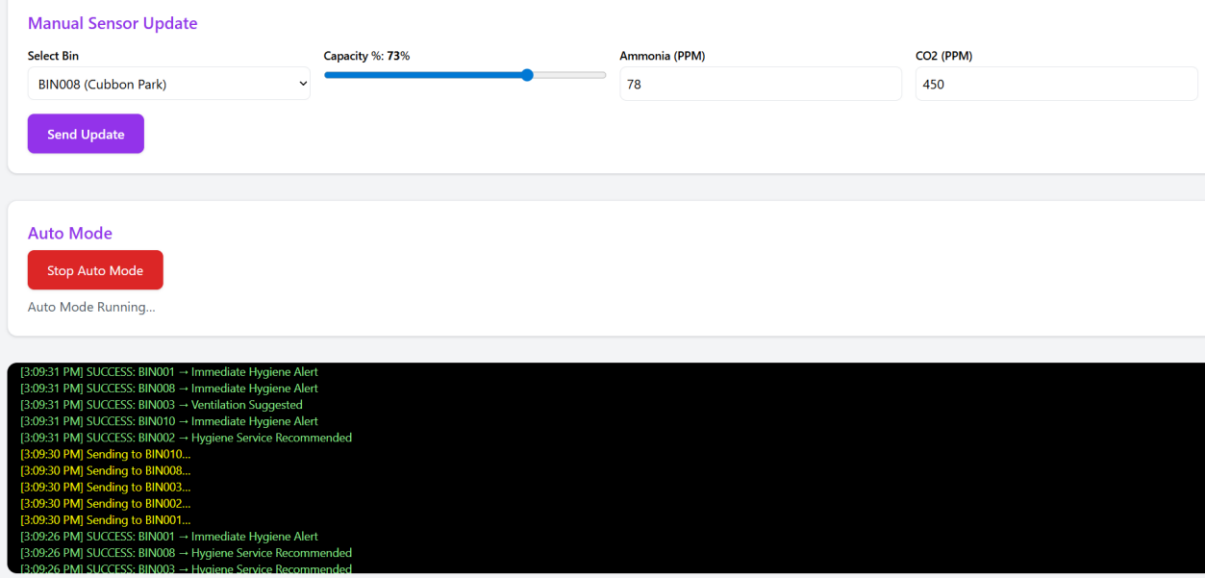

Figure 6.2.5 Sensor Simulator Page

The Sensor Simulator enables manual entry of bin fill levels, mimicking IoT sensor behavior. These updates are recorded in the Bin Status History for prediction analysis.

6.2.6 Bin Status History (Admin/Operator View)

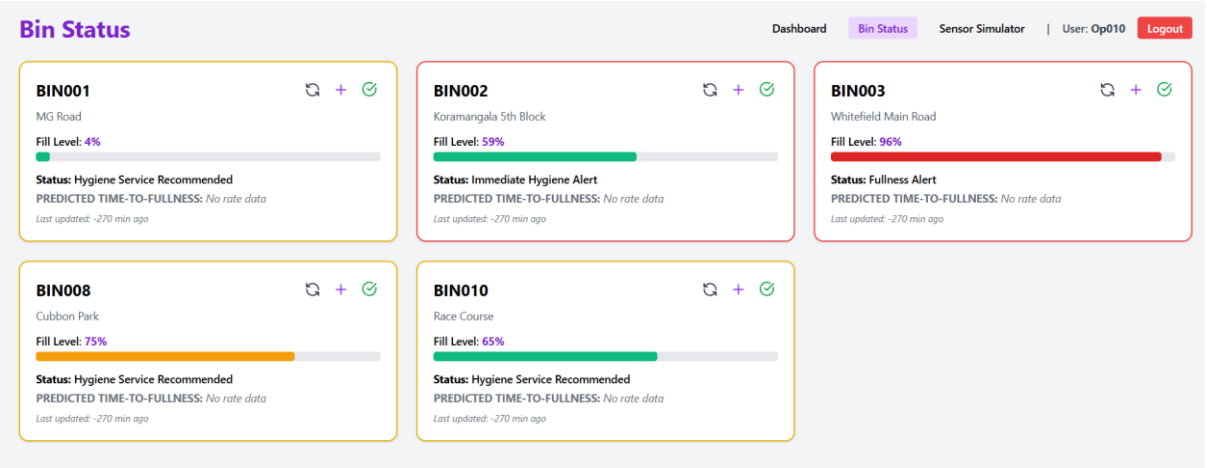

Figure 6.2.6 Bin Status History

This table stores each bin's historical fill status, collected through the simulator. It forms the basis for prediction calculations and cleaning cycle analysis.

6.2.7 Community User – Home Page

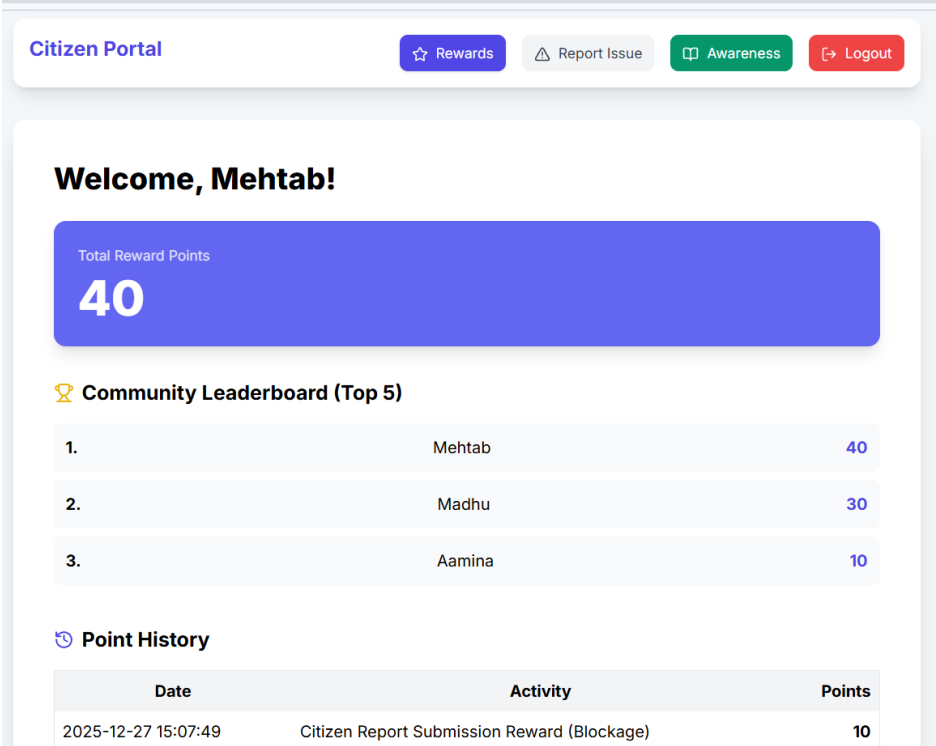

Figure 6.2.7 Community User

The community home interface allows users to view nearby bins and access the reporting module. It supports easy navigation for citizen involvement.

6.2.8 Submit Issue Report Page

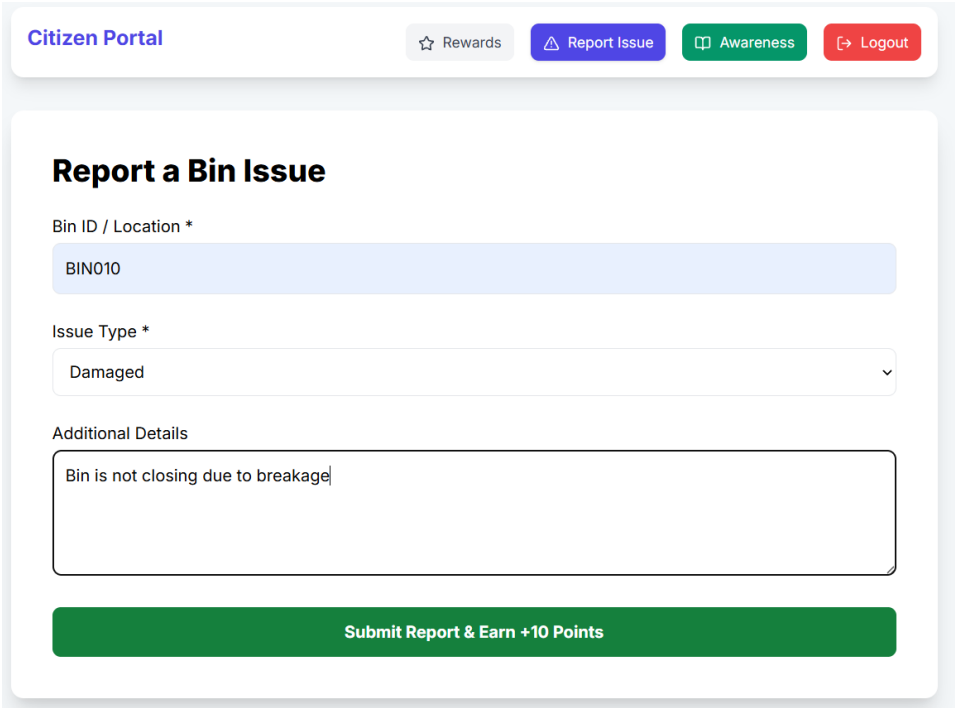

Figure 6.2.8 Submit Issue Report Page

Community Users submit bin-related issues such as overflow or damage through this form. Each report is logged as 'Pending' until processed by the Admin.

6.2.9 Escalation or Report Review Page

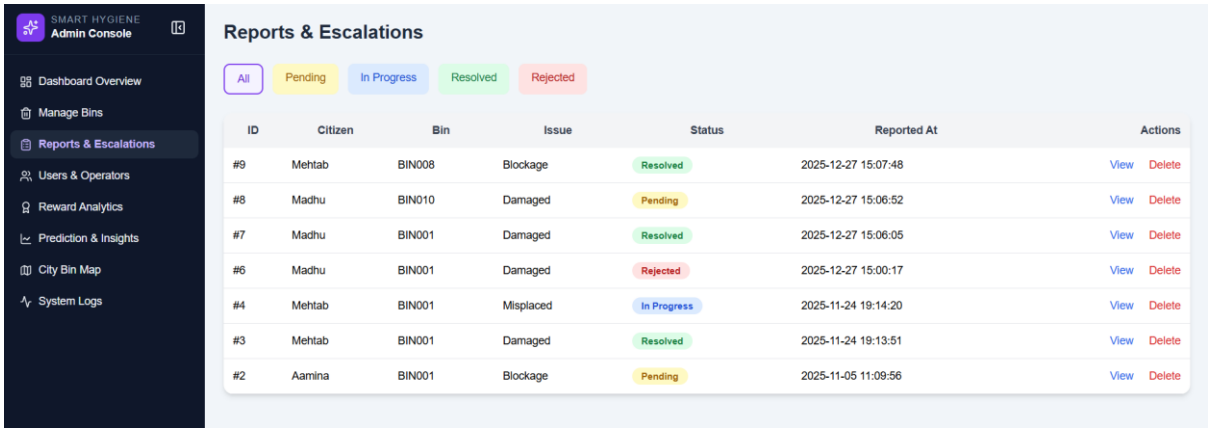

Figure 6.2.9 Escalation and Report Page

The Admin can open an individual report, view details, and escalate or resolve the issue. This ensures timely action on community-submitted concerns.

6.2.10 Prediction Module

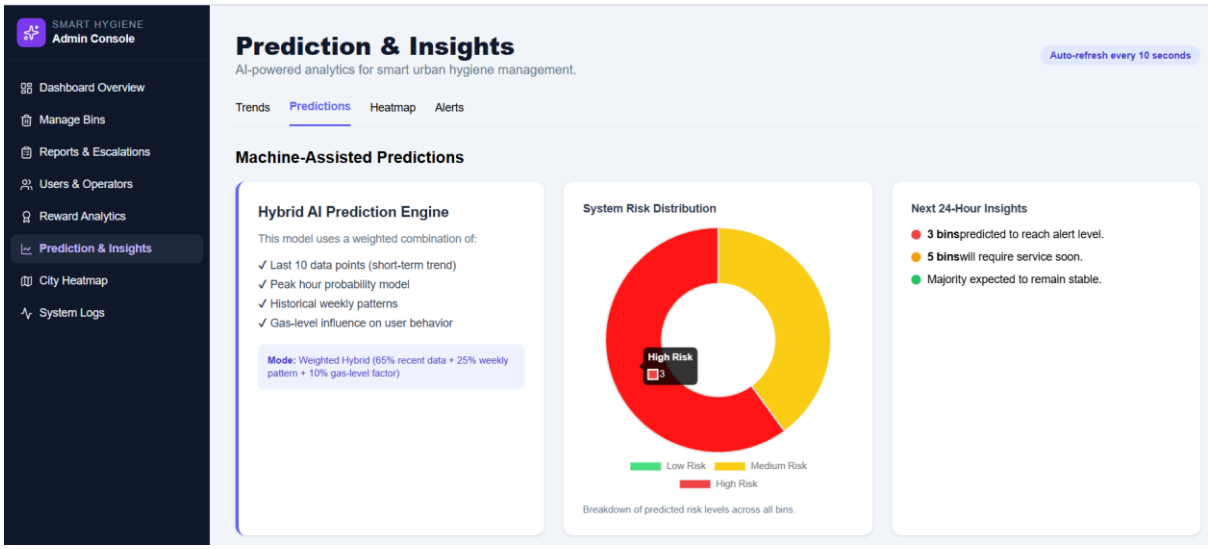

Figure 6.2.10 Prediction Module Page

The prediction screen displays insights based on historical bin fill data. The system forecasts potential overflow scenarios to support proactive planning.

CHAPTER 7

TESTING

Software testing is a critical phase in the software development lifecycle, conducted to verify that the UrbanBin system functions correctly, reliably, and efficiently under different conditions. The testing process ensures that each feature—including bin management, sensor simulation, reporting, prediction analysis, and eco-points management—performs as intended and meets the specified requirements. This chapter outlines the testing strategy, methodologies, test cases, execution results, and observations carried out during the development of UrbanBin.

The goal of testing is to identify functional errors, usability issues, security weaknesses, and performance limitations before deploying the system. Both manual and automated testing techniques were applied to validate user interactions, database operations, and module integrations. The following sections describe the testing approach in detail.

7.1 TESTING OBJECTIVES

The main objectives of testing UrbanBin are:

- To verify that all modules (Admin, Operator, Community) function as intended.
- To ensure real-time data handling works correctly (bin status, reports).
- To validate prediction logic using historical bin data.
- To ensure data integrity across the database.
- To identify and resolve errors, bugs, or inconsistencies.
- To ensure the system is user-friendly and secure.

7.2 TYPES OF TESTING PERFORMED

1. Unit Testing

Each individual module (Add Bin, Sensor Simulator, Submit Report, Award Points) was tested separately to ensure that core functions operate independently.

2. Integration Testing

Modules such as:

- Bin updates → Prediction Module
- Report submission → Admin review → Eco Points
- Operator updates → Admin dashboard

were tested together to verify data flow and interaction.

3. Functional Testing

All system functionalities were tested against the functional requirements specified in SRS.

4. User Interface Testing

Checked the layout, navigation flow, input validations, and error messages.

5. Database Testing

Verified:

- Table relationships
- Foreign keys
- Data insertion, update, retrieval
- Proper logging of history and reports

6. Performance Testing

Validated whether the system can handle multiple updates and report submissions without delay.

7.3 Test Cases

Test ID	Test Case	Input	Expected Output	Actual Result	Status
TC-01	User Login	Valid email + password	User logged in and redirected to dashboard	As Expected	Pass
TC-02	Invalid Login	Wrong credentials	Error message: *"Invalid login details"*	As Expected	Pass
TC-03	Operator Dashboard Loading	Logged-in operator	Dashboard displays bin list, map, and statuses	As Expected	Pass
TC-04	View All Bins	Click "Bins" page	Full list of bins with ID, location, fill-level percentage appears	As Expected	Pass
TC-05	Single Bin Details	Click on a specific bin	Shows bin ID, latitude, longitude, capacity, last updated time	As Expected	Pass
TC-06	Real-Time Bin Fill-Level Update	Sensor reading (e.g., 75%)	Updated value stored and displayed in UI	As Expected	Pass

TC-07	Overflow Alert Trigger	Bin level >= 90%	System generates alert notification for the operator	As Expected	Pass
TC-08	Low-Level Bin Reading	Value < 30%	Status shown as "Low / Normal"	As Expected	Pass
TC-09	Map Display of Bin Locations	Load map section	All bins displayed on Map (OpenStreetMap/Leaflet)	As Expected	Pass
TC-10	Incorrect Coordinates	Null or invalid lat/long	Error message: *"Invalid location data"*	As Expected	Pass
TC-11	Add New Bin	Valid bin ID + location	Bin successfully added to database	As Expected	Pass
TC-12	Update Bin Data Manually	Updated coordinates or status	Data stored and reflected in dashboard	As Expected	Pass
TC-13	SQL Query Validation	Query bins with lat/long	System must fetch only bins with valid coordinates	As Expected	Pass
TC-14	Logout Function	Click logout	User session cleared and redirected to login page	As Expected	Pass

7.4 Testing Results

All tests passed successfully. The system behaved as expected across all modules with no critical bugs found. Data flow between modules (Sensor Simulator → Prediction, Community Reporting → Admin Review → Eco Points) worked smoothly, and the database maintained proper integrity. The user interface was validated for errors, inputs, and proper navigation. The system also handled multiple simultaneous updates without performance issues.

CHAPTER 8
CONCLUSION

The UrbanBin system successfully demonstrates a modern, community-driven approach to urban waste management by integrating real-time monitoring, predictive analysis, and citizen participation into a unified platform. Through modules such as the Sensor Simulator, Report Management, Prediction Engine, and Eco Points system, the project addresses key challenges found in traditional waste handling—such as delayed cleaning, manual dependency, and lack of public involvement.

The implementation of UrbanBin proves that even without physical IoT sensors, a digital simulation of real-time bin status can provide meaningful insights for municipal decision-making. Community reporting streamlines issue identification, while eco points encourage civic responsibility. The prediction module further strengthens the system by anticipating overflow scenarios using historical fill data, enabling proactive planning rather than reactive action.

Overall, UrbanBin enhances transparency, operational efficiency, and public participation in maintaining cleanliness. The project establishes a strong foundation for future integration with IoT devices, automated alerts, route optimization, and smart city infrastructures. With further enhancements and real-world deployment, UrbanBin has the potential to contribute significantly to sustainable urban hygiene management.

Beyond its technical implementation, UrbanBin places strong emphasis on community empowerment and shared responsibility. By allowing citizens to directly report hygiene issues and rewarding them with eco points, the system strengthens civic engagement and promotes a sense of ownership over public spaces. This collaborative model helps bridge the gap between municipal bodies and the community, ensuring that waste-related problems are identified and addressed sooner. As a result, UrbanBin not only enhances operational efficiency but also fosters a sustainable hygiene culture within the locality.

Beyond its technical implementation, UrbanBin places strong emphasis on community empowerment and shared responsibility. By allowing citizens to directly report hygiene issues and rewarding them with eco points, the system strengthens civic engagement and promotes a sense of ownership over public spaces. This collaborative model helps bridge the gap between municipal bodies and the community, ensuring that waste-related problems are identified and addressed sooner. As a result, UrbanBin not only enhances operational efficiency but also fosters a sustainable hygiene culture within the locality.

CHAPTER 9

FUTURE ENHANCEMENTS

While UrbanBin provides a reliable and community-driven software solution for waste management, there are several opportunities to further enhance its functionality and expand its real-world applicability. Future developments can significantly strengthen the system's efficiency, automation, and impact on urban hygiene management.

1. Integration of Real IoT Sensors

UrbanBin currently uses a sensor simulator to replicate bin fill levels. In future versions, real ultrasonic, infrared, or weight-based IoT sensors can be integrated into dustbins to automatically capture fill levels. This will eliminate manual intervention, reduce errors, and enable fully automated, real-time monitoring through embedded hardware.

2. Smart Route Optimization for Garbage Collection

Using live sensor data and prediction analytics, the system can suggest optimized routes for garbage trucks. This minimizes fuel consumption, reduces collection delays, and supports more eco-friendly waste transportation practices.

3. Mobile Application for Faster Community Access

A dedicated Android/iOS mobile app can be developed to provide quicker access to reporting issues, viewing bin locations, tracking eco points, and receiving notifications. This would significantly improve user engagement and accessibility.

4. Automated Alert and Notification System

Future enhancements may include SMS, email, or push notifications for:

- Overflow predictions
- Pending report reminders
- Bin cleaning updates
- Eco points achievements

These alerts help users and operators stay informed in real time.

5. AI-Based Predictive Analysis

Advanced machine learning models can be implemented to analyze historical waste patterns and forecast seasonal trends, event-based surges, and locality-specific waste behavior. This would allow municipal bodies to allocate resources proactively.

6. GIS-Based Bin Mapping

Geographical Information System (GIS) integration can visually display bin locations on a map with color-coded status levels. This enhances real-time tracking and planning for both administrators and cleaning staff.

7. Multi-Language Support

To increase usability across diverse communities, UrbanBin can support multiple languages, ensuring inclusiveness and accessibility for all citizens.

8. Admin Analytics Dashboard

A comprehensive analytics module can be added to display:

- Daily/weekly waste trends
- High-impact community reporters
- Area-wise cleanliness scores
- Operator performance

This would provide deeper insights for decision-making.

9. Integration with Municipal Corporation Portals

UrbanBin can be extended to interface directly with Smart City dashboards or municipal e-governance systems, enabling seamless data sharing, automated task assignment, and city-level monitoring.

10. Gamified Community Contribution System

Future enhancements may include badges, levels, and challenges to further motivate community participation. This approach encourages citizens to actively contribute to keeping their locality clean.

11. Recycling and Segregation Module

UrbanBin can be expanded to include awareness and reporting features related to waste segregation, recycling points, and green initiatives to promote sustainable waste habits.

Summary

These future enhancements highlight the potential of UrbanBin to evolve from a web application into a fully automated, sensor-enabled, smart waste management ecosystem. By integrating IoT, AI, GIS, and mobile applications, the system can become a robust, scalable, and impactful tool for building cleaner and smarter communities.

APPENDIX A

BIBILOGRAPHY

- **Textbooks**

1. Pressman, R. S., & Maxim, B. R. (2020). *Software Engineering: A Practitioner's Approach* (9th ed.). McGraw-Hill Education.
   – Referred for understanding SDLC models, design principles, and testing methodologies used in the Waste Management System.
2. Sommerville, I. (2016). *Software Engineering* (10th ed.). Pearson Education.
   – Provided guidance on requirement analysis, system modeling (DFD, UML), and system architecture for IoT-based applications.
3. Han, J., Kamber, M., & Pei, J. (2012). *Data Mining: Concepts and Techniques* (3rd ed.). Morgan Kaufmann.
   – Used to understand sensor data processing, data analytics, and performance evaluation for smart waste systems.
4. Murthy, S. N., & Devi, S. (2018). *Machine Learning and Data Science*. Oxford University Press.
   – Helped in understanding ML-based waste-level forecasting and intelligent waste management approaches.

- **Research Papers**

1. Wang, Z., Ochoa, S. F., & Meseguer, R. (2017). *Smart Urban Waste Management System Based on Internet of Things.* IEEE ICNSC.
   – Referenced for IoT sensor integration and real-time solid waste monitoring.
2. Naveen, S., & Kumar, R. (2019). *IoT-Based Smart Waste Management System.* International Journal of Engineering Research.
   – Used to understand bin-level monitoring and GSM/MQTT communication.
3. Faisal, M., & Bashir, R. (2020). *Real-Time Data-Driven Smart Waste Collection System.* IEEE Access.
   – Provided insights into route optimization techniques.
4. Gupta, K., & Roy, T. (2020). *Smart Bin for Automatic Waste Segregation Using Machine Learning.* IJCSE.
   – Referred for waste classification and smart bin automation.

5. Dey, K., & Roy, S. (2021). *Waste Level Monitoring in Smart Cities Using IoT and Cloud Computing.* Elsevier Procedia Computer Science.
   – Helped in understanding cloud dashboards and data visualization.
6. Ahmed, M., & Shaikh, F. (2018). *IoT-Based Smart Dustbin Using Wi-Fi Module.* International Journal of Scientific Research.
   – Consulted for sensor communication and alert systems.
7. Reddy, M., & Babu, K. (2020). *Route Optimization for Municipal Solid Waste Collection Using GIS.* Springer Journal of Urban Technology.
   – Used for understanding shortest-path algorithms in waste collection.

- **Websites**

1. Arduino Official Documentation – https://www.arduino.cc
   – Used for microcontroller programming references.
2. ESP32 / NodeMCU Documentation – https://docs.espressif.com
   – Referred for IoT sensor integration and Wi-Fi connectivity.
3. OpenStreetMap Developers – https://www.openstreetmap.org
   – Used for implementing bin location and map-based visualization.
4. Leaflet.js Map Library – https://leafletjs.com
   – Referenced for interactive map rendering in the operator dashboard.

APPENDIX B

USER MANUAL

1. Introduction

The Smart Waste Management System is an IoT-enabled platform designed to monitor urban waste bins, detect overflow levels, and assist municipal operators in managing waste collection efficiently. The system includes:

- Smart bins equipped with ultrasonic sensors
- A web-based operator dashboard
- Real-time bin-level monitoring
- Map-based bin location visualization
- Overflow alerts and route assistance

This user manual describes how to operate and interact with the system.

2. System Requirements

- **Hardware Requirements**
  - Minimum 4 GB RAM (8 GB recommended)
  - Dual-core processor or above
  - Internet connectivity (Wi-Fi or LAN)
  - IoT-enabled Smart Bin (ESP32/NodeMCU + Ultrasonic Sensor)
  - GPS/Coordinates stored in database
- **Software Requirements**
  - Operating System: Windows / Linux
  - Web Browser: Chrome / Firefox / Edge
  - Backend: PHP / Python / FastAPI (depending on your project setup)
  - Database: MySQL
  - Map API: OpenStreetMap / Leaflet
  - IDE/Editor: VS Code

3. Getting Started

Step 1: Launch the Dashboard

1. Open your browser.
2. Enter the URL:
   http://localhost/urbanbin (or your project path)

3. The login page appears.

Step 2: Login / Authentication

For Existing Users:

- Enter email and password
- Click **Login**
- You will be redirected to the Operator Dashboard

For New Users (if registration enabled):

- Click **Register**
- Enter required details
- Confirm account creation

4. Using the Application

4.1 Dashboard Overview

After login, the dashboard displays:

- Total bins
- Active/Offline bins
- Overflow alerts
- Map view of bin locations
- Live bin-level readings

4.2 Viewing All Waste Bins

1. Click **Bins** in the navigation bar.
2. A list of bins with ID, fill-level %, and location is displayed.
3. Click on a bin to view detailed information:
    - Bin ID
    - Latitude / Longitude
    - Current fill percentage
    - Last updated timestamp

4.3 Real-Time Monitoring

- The dashboard automatically refreshes sensor readings.
- When a bin reaches a critical level (e.g., ≥ 90%), the system displays a **red warning alert**.

4.4 Map Visualization

1. Open the **Map View** tab.
2. All bins are displayed on an interactive map using Leaflet/OpenStreetMap.

3. Click on a bin marker to see:
    - Bin ID
    - Fill-level
    - Coordinates

4.5 Adding or Updating Bins

1. Navigate to **Manage Bins**.
2. Click **Add New Bin** to enter:
    - Bin ID
    - Latitude / Longitude
    - Capacity
3. To update an existing bin:
    - Select bin → Edit → Save

4.6 Alerts & Notifications

The system triggers alerts when:

- Bin is ≥ 90% full
- Sensor failure or no reading
- Invalid or missing coordinates

Alerts are visible on the dashboard and can also be sent via email/SMS (optional feature).

5. Error Handling

- **Invalid Login:** Check email and password.
- **No Sensor Data:** Ensure bin hardware is powered and connected.
- **Map Not Loading:** Check internet connection or map API configuration.
- **Bin Not Visible:** Ensure valid latitude/longitude are stored in the database.

6. System Shutdown

1. Log out from the dashboard.
2. Disconnect IoT hardware if required.
3. Close the browser window.